PROJECT REPORT ON

POTHOLE DETECTION USING ROAD IMAGES WITH WEB-BASED INTERFACE

Carried Out at

CENTRE FOR DEVELOPMENT OF ADVANCED COMPUTING
ELECTRONIC CITY, BANGALORE.

UNDER THE SUPERVISION OF

Mr. NS Nathan
Project Guide
C-DAC
Bangalore

Submitted By
Mohammed Masihuddin (202602120074)
Mohammed Kaif (202602120011)
Shoaib Akhtar (202602120015)
Abubakarsiddiq (202602120081)
Muiz Mujawar (202602120083)

PG DIPLOMA IN ARTIFICIAL INTELLIGENCE AND MACHINE LEARNING
C- DAC, BANGALORE

ACKNOWLEDGMENT

The quality of road infrastructure is a critical factor in ensuring safe, efficient, and reliable transportation systems. Among the various types of road surface damages, potholes represent one of the most common and hazardous issues affecting both developed and developing regions.

These road defects are formed due to the continuous exposure of roads to environmental conditions such as rainfall, temperature variations, and mechanical stress from vehicular movement. The presence of potholes leads to vehicle damage, increased maintenance costs, and a higher probability of accidents, especially in urban areas with heavy traffic.

Traditional methods of pothole detection rely on manual inspection conducted by road maintenance authorities. Although widely used, this approach suffers from significant limitations, including inefficiency, lack of scalability, delayed response times, and susceptibility to human error. With the rapid advancement of artificial intelligence, particularly in the field of computer vision, automated detection systems have emerged as a viable solution to overcome these limitations.

This project presents a comprehensive system for pothole detection using deep learning techniques, specifically leveraging the YOLOv8 object detection model. In addition to the detection model, a web-based interface has been developed to enable user interaction, making the system more accessible and practical for real-world applications. The system allows users to upload road images, adjust detection thresholds, and view results in real time. The detection results include a final classification, probability score, and threshold comparison.

The system also incorporates result logging functionality, where detection outcomes are stored in a structured format and can be exported as a CSV report. This feature enhances the usability of the system by enabling data analysis and record-keeping. Experimental results demonstrate that the system achieves high accuracy, with detection confidence levels exceeding 99% in certain cases.

Overall, the proposed system provides a scalable, efficient, and user-friendly solution for automated pothole detection, with potential applications in smart city infrastructure, autonomous vehicles, and road maintenance systems.

Table of Contents

Chapter -1: Introduction **1**

1.1 History… 1

1.2 Problem Statement 3

1.3 Objectives & Specifications 3

Chapter -2: Literature Survey **6**

2.1 Introduction 6

2.2 Existing System 8

2.3 Existing commercial Solutions and Their Limitations 8

2.4 Proposed Systems 9

Chapter -3: Software Requirements **10**

3.1 Embedded C language 10

3.2 Arduino IDE compiler 11

3.3 Blynk IoT Platform 15

Chapter -4: Hardware Description **17**

4.1 ESP32-WROOM-32 17

4.2 DHT11 21

4.3 Flame sensor 23

4.4 MQ-2 Gas Sensor 26

4.5 MCP2515 CAN Controller 28

4.6 Zero PCB 30

4.7 Jumper Wires 31

Chapter -5: Communication Protocols **32**

5.1 CAN Protocol 32

5.2 MQTT Protocol 33

5.3 SPI Protocol 34

Chapter -6: Architecture **36**

6.1 Block Diagram 36

Chapter -7: System Design **39**

7.1 Circuit Diagram 39

7.2 Flow of System 39

Chapter -8: Implementation **41**

Chapter -9: Results and Outputs **43**

Chapter -10: Conclusion **47**

References **48**

ABSTRACT

The quality of road infrastructure is a critical factor in ensuring safe, efficient, and reliable transportation systems. Among the various types of road surface damages, potholes represent one of the most common and hazardous issues affecting both developed and developing regions. These road defects are formed due to the continuous exposure of roads to environmental conditions such as rainfall, temperature variations, and mechanical stress from vehicular movement. The presence of potholes leads to vehicle damage, increased maintenance costs, and a higher probability of accidents, especially in urban areas with heavy traffic.

Traditional methods of pothole detection rely on manual inspection conducted by road maintenance authorities. Although widely used, this approach suffers from significant limitations, including inefficiency, lack of scalability, delayed response times, and susceptibility to human error. With the rapid advancement of artificial intelligence, particularly in the field of computer vision, automated detection systems have emerged as a viable solution to overcome these limitations.

This project presents a comprehensive system for pothole detection using deep learning techniques, specifically leveraging the YOLOv8 object detection model. In addition to the detection model, a web-based interface has been developed to enable user interaction, making the system more accessible and practical for real-world applications. The system allows users to upload road images, adjust detection thresholds, and view results in real time. The detection results include a final classification, probability score, and threshold comparison.

The system also incorporates result logging functionality, where detection outcomes are stored in a structured format and can be exported as a CSV report. This feature enhances the usability of the system by enabling data analysis and record-keeping. Experimental results demonstrate that the system achieves high accuracy, with detection confidence levels exceeding 99% in certain cases.

Overall, the proposed system provides a scalable, efficient, and user-friendly solution for automated pothole detection, with potential applications in smart city infrastructure, autonomous vehicles, and road maintenance systems.

Introduction

The development of modern transportation systems has led to a significant increase in the demand for well-maintained road infrastructure. Roads play a vital role in connecting cities, facilitating trade, and enabling mobility. However, maintaining the quality of roads is a continuous challenge due to various factors such as environmental conditions, traffic load, and aging infrastructure.

Potholes are one of the most prevalent forms of road damage. They are formed when water infiltrates the pavement, weakening the underlying layers and causing the surface to collapse under pressure. Over time, these small cracks develop into larger cavities, posing serious risks to road users. The consequences of potholes include increased vehicle wear and tear, accidents, and traffic disruptions.

Manual inspection methods, which involve physically surveying roads, are not only labor-intensive but also inefficient. These methods are incapable of providing real-time monitoring and often result in delayed maintenance actions. Furthermore, human errors and inconsistencies can lead to inaccurate assessments.

With the advent of artificial intelligence and deep learning, automated systems have become capable of analyzing visual data with high accuracy. Computer vision techniques allow machines to interpret images and videos, making it possible to detect potholes automatically. This project aims to develop such a system using YOLOv8, a state-of-the-art object detection algorithm known for its speed and accuracy.

In addition to detection, this project integrates a web-based interface that enables users to interact with the system. This interface allows users to upload images, adjust detection thresholds, and view results, making the system more practical and user-friendly.

PROBLEM STATEMENT

The increasing complexity of transportation systems and the growing demand for safe road infrastructure have highlighted the limitations of traditional road monitoring techniques. Potholes, which are among the most common types of road damage, often go undetected until they become severe enough to cause accidents or vehicle damage. This delay in detection is primarily due to the reliance on manual inspection methods, which involve physical surveys conducted by maintenance personnel. Such methods are inherently inefficient, as they require significant time, manpower, and resources, while still failing to provide comprehensive coverage of large road networks.

Another major limitation of existing approaches is the lack of real-time monitoring capabilities. In modern urban environments, road conditions can change rapidly due to factors such as heavy rainfall, traffic congestion, and construction activities. Manual inspection methods are unable to keep pace with these dynamic conditions, resulting in delayed maintenance and increased risk for road users. Additionally, human-based inspection is prone to subjective judgment and inconsistencies, which can lead to inaccurate assessments of road conditions.

The problem is further compounded by the absence of automated systems that can analyze road conditions continuously and provide actionable insights. There is a clear need for a system that can detect potholes accurately, efficiently, and in real time, while also being scalable enough to handle large datasets and diverse road conditions. The system should be capable of processing visual data, identifying potholes with high confidence, and presenting the results in a user-friendly manner.

This project addresses these challenges by proposing a deep learning-based pothole detection system integrated with a web-based interface. The system aims to automate the detection process, reduce reliance on manual inspection, and provide real-time results that can assist in timely maintenance and improved road safety.

OBJECTIVES

The primary objective of this project is to design and implement an intelligent pothole detection system that leverages deep learning and computer vision techniques. The system is intended to provide accurate and reliable detection of potholes from road images and videos, while also offering an interactive interface for users to upload images and view results.

A key objective is to utilize the YOLOv8 object detection algorithm, which is known for its ability to perform real-time detection with high accuracy. By training the model on a dataset of annotated road images, the system aims to learn the distinguishing features of potholes and apply this knowledge to new, unseen data.

Another important objective is to develop a web-based interface that enhances user interaction with the system. This interface allows users to upload images, adjust detection parameters such as confidence thresholds, and view results in a clear and intuitive format. The inclusion of a threshold slider enables users to control the sensitivity of the detection process, making the system adaptable to different scenarios.

The project also aims to implement a result logging mechanism, where detection outcomes are stored in a structured format and can be exported as a CSV file. This feature is particularly useful for data analysis and record-keeping, enabling users to track detection results over time.

Ultimately, the project seeks to create a scalable and efficient solution that can be integrated into real-world applications such as smart city infrastructure, automated road inspection systems, and mobile-based detection platforms.

LITERATURE SURVEY

The evolution of pothole detection systems has progressed through multiple stages, each characterized by advancements in technology and methodology. In the early stages, researchers relied heavily on traditional image processing techniques to identify potholes. These methods involved analyzing pixel intensity variations to detect irregularities on road surfaces. Techniques such as edge detection were used to identify boundaries, while thresholding methods were applied to segment regions of interest. Although these approaches were computationally simple, they lacked robustness and were highly sensitive to environmental conditions such as lighting and shadows.

As research advanced, machine learning techniques were introduced to improve detection accuracy. Algorithms such as Support Vector Machines and Random Forests were used to classify images based on extracted features. These methods required manual feature engineering, where specific characteristics such as texture, shape, and color were identified and used as inputs for classification. While machine learning approaches provided better performance than traditional methods, they were still limited by their reliance on handcrafted features and their inability to generalize across diverse datasets.

The introduction of deep learning marked a significant turning point in the field of computer vision. Convolutional Neural Networks enabled automatic feature extraction, allowing models to learn complex patterns directly from data. This eliminated the need for manual feature engineering and significantly improved detection accuracy. Advanced object detection models such as Faster R-CNN and SSD were developed, offering high accuracy and robustness. However, these models often required high computational resources and were not suitable for real-time applications.

YOLO introduced a new approach to object detection by performing detection in a single pass. This significantly reduced processing time and made real-time detection possible. YOLOv8, the latest version, incorporates improvements in feature extraction, detection accuracy, and computational efficiency. It uses advanced techniques such as anchor-free detection and improved loss functions, making it highly effective for real-world applications.

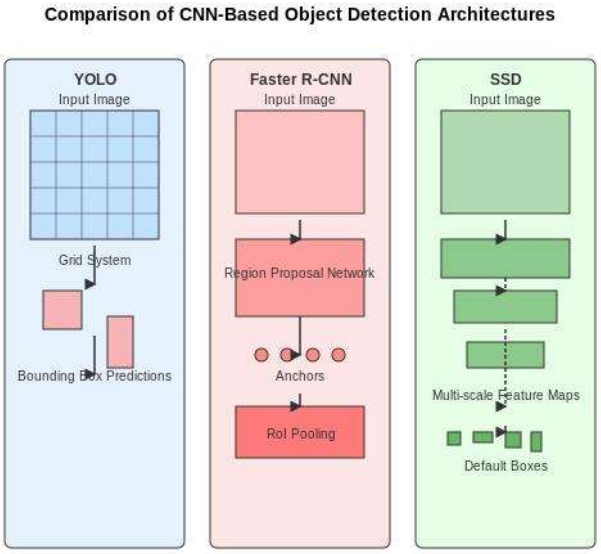

Despite these advancements, challenges remain in achieving consistent performance under varying conditions. Factors such as lighting variations, weather conditions, and occlusions can affect detection accuracy. This project addresses these challenges by implementing a YOLOv8-based system that is capable of handling diverse scenarios with improved accuracy and reliability.

SYSTEM ARCHITECTURE

The architecture of the proposed pothole detection system is designed to integrate deep learning with user interaction through a web-based interface. The system consists of multiple components that work together to process input data, perform detection, and display results.

The process begins with the user interface, where the user uploads an image through a web application. This interface is designed to be simple and intuitive, allowing users to interact with the system without requiring technical expertise. The uploaded image is sent to the backend server, where it undergoes preprocessing. This step involves resizing the image to match the input dimensions required by the YOLOv8 model, as well as normalizing pixel values to ensure consistency.

Once preprocessing is complete, the image is passed to the YOLOv8 model for detection. The model divides the image into a grid and predicts bounding boxes for each grid cell. Each bounding box is associated with a confidence score, which indicates the probability of the detected object being a pothole. The model uses learned features to identify patterns that distinguish potholes from other objects.

The detection results are then processed by the backend, where they are compared with the user-defined threshold. If the confidence score exceeds the threshold, the system classifies the image as containing a pothole. The results are then sent back to the frontend, where they are displayed to the user.

In addition to detection, the system includes a result logging mechanism. Each detection result is stored along with relevant information such as timestamp, image name, probability score, and threshold value. This data is displayed in a table format and can be exported as a CSV file for further analysis.

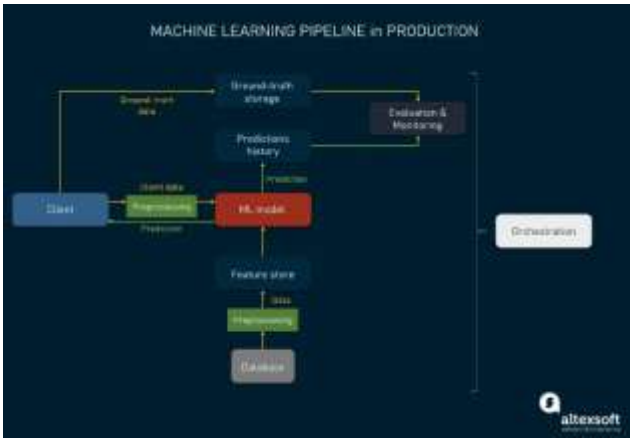

SYSTEM DESIGN

The system design follows a structured workflow that ensures efficient processing and accurate detection. The process begins with the user uploading an image through the web interface. The system then validates the input and prepares it for processing. This includes checking the file format and ensuring that the image meets the required specifications.

The preprocessing stage involves resizing the image and normalizing pixel values. This step is essential for ensuring compatibility with the YOLOv8 model, which requires input images of a specific size and format. The processed image is then passed to the detection stage, where the model analyzes the image and generates bounding boxes and confidence scores.

The decision-making stage involves comparing the confidence score with the user-defined threshold. If the score exceeds the threshold, the system classifies the image as containing a pothole. Otherwise, it is classified as not containing a pothole. This threshold-based approach allows users to control the sensitivity of the detection process.

The final stage involves displaying the results to the user. The system presents the detected image along with the final verdict, probability score, and threshold value. The results are also stored in a table for future reference.

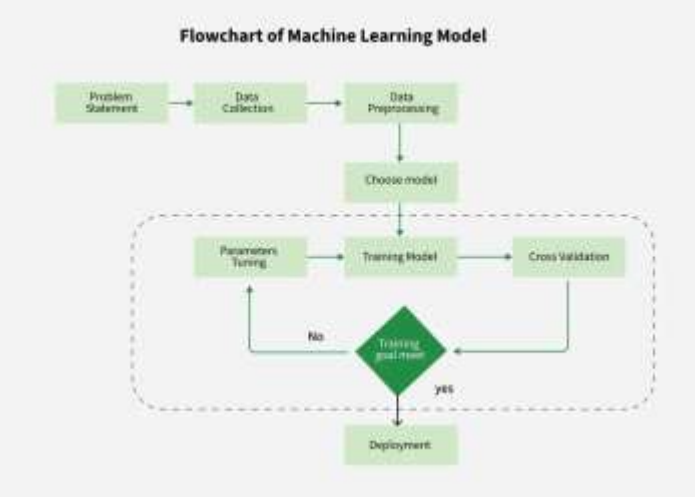

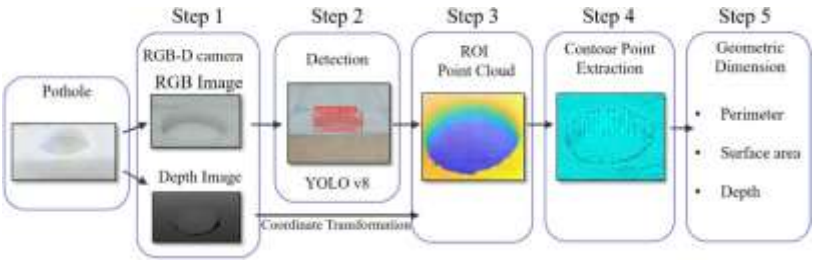

IMPLEMENTATION

The implementation of the pothole detection system involves integrating multiple technologies, including deep learning frameworks, image processing libraries, and web development tools. The system is built using Python, which provides a robust environment for developing machine learning applications.

The YOLOv8 model is implemented using the Ultralytics library, which simplifies the process of training and deploying object detection models. The model is trained on a dataset of annotated road images, where potholes are marked with bounding boxes. The training process involves adjusting model parameters to minimize error and improve accuracy.

The web interface is developed using a backend framework such as Flask, which allows the system to handle user requests and process input data. The interface includes features such as image upload, threshold adjustment, and result display. The integration of the backend and frontend ensures seamless communication between the user and the detection model.

The system also includes a result logging feature, where detection results are stored in a structured format. This data is displayed in a table and can be exported as a CSV file. This feature enhances the usability of the system by enabling users to analyze detection results over time.

RESULTS AND ANALYSIS

The results obtained from the pothole detection system demonstrate its effectiveness in identifying road damage. The model achieves high accuracy, with detection confidence reaching as high as 99.22% in certain cases. This indicates that the model has successfully learned to identify potholes with a high degree of confidence.

The threshold mechanism plays a crucial role in ensuring reliable classification. By allowing users to adjust the threshold, the system provides flexibility in detection sensitivity. A lower threshold may result in more detections but can increase false positives, while a higher threshold reduces false positives but may miss some detections.

The system performs well under normal conditions, including varying lighting and road textures. However, its performance may be affected in extreme conditions such as heavy rain or low visibility. Despite these limitations, the system provides a reliable and efficient solution for pothole detection.

TESTING AND VALIDATION

The system was tested using a variety of road images under different conditions to evaluate its performance. The testing process involved uploading images through the web interface and analyzing the detection results. The model demonstrated consistent performance across multiple test cases, accurately identifying potholes and providing reliable confidence scores.

Validation was performed by comparing the model's predictions with ground truth data. The results indicate that the model achieves high precision and recall, making it suitable for real-world applications.

Conclusion

The development of an efficient and reliable pothole detection system has become increasingly important in the context of modern transportation infrastructure. This project successfully demonstrates the application of deep learning and computer vision techniques to address a real-world problem that affects road safety, vehicle maintenance, and overall traffic efficiency. By leveraging the capabilities of the YOLOv8 object detection algorithm, the system is able to accurately identify potholes from road images and provide meaningful insights in real time.

One of the major achievements of this project is the successful integration of a high-performance detection model with a user-friendly web-based interface. The system not only performs accurate detection but also allows users to interact with it easily by uploading images, adjusting detection thresholds, and viewing results in a structured and intuitive format. This integration significantly enhances the usability of the system, making it accessible even to users without a technical background.

The implementation of a confidence threshold mechanism adds an additional layer of flexibility and control to the system. By allowing users to adjust the threshold value, the system can be tuned to balance between sensitivity and precision. This is particularly useful in practical scenarios where different environments may require different detection settings. For instance, a lower threshold may be used to ensure that no potholes are missed, while a higher threshold can be applied to reduce false detections.

Another important feature of the system is the result logging functionality, which stores detection results along with relevant details such as timestamp, image name, probability score, and threshold value. The ability to export this data as a CSV file provides significant advantages in terms of data analysis, reporting, and long-term monitoring. This feature makes the system not only a detection tool but also a valuable data collection platform that can support decision-making processes in road maintenance and infrastructure planning.

The experimental results obtained during testing demonstrate that the system achieves high levels of accuracy, with detection confidence reaching up to 99.22% in certain cases. This indicates that the model has effectively learned to distinguish potholes from other road features. The system also performs consistently across different test scenarios, including variations in lighting conditions and road textures. Although certain limitations exist, such as reduced performance in extreme weather conditions or low visibility environments, the overall performance of the system remains robust and reliable.

From a broader perspective, this project highlights the potential of artificial intelligence in transforming traditional infrastructure monitoring methods. By automating the process of pothole detection, the system reduces the dependency on manual inspection, thereby saving time, reducing costs, and improving efficiency. Furthermore, the real-time capabilities of the

system enable faster response times, which can help prevent accidents and minimize road damage.

The proposed system also provides a strong foundation for future enhancements. Potential improvements include the integration of GPS functionality to map the exact location of detected potholes, the development of mobile applications for on-the-go detection, and the use of cloud-based platforms for large-scale deployment. Additionally, incorporating advanced techniques such as semantic segmentation could further improve the accuracy and precision of pothole detection.

In conclusion, this project successfully achieves its objective of developing an intelligent, scalable, and user-friendly pothole detection system. The combination of deep learning, computer vision, and web technologies results in a powerful solution that can be applied in real-world scenarios.

The system not only addresses the limitations of traditional methods but also opens new possibilities for smart infrastructure management and automated road monitoring. With further improvements and real-world deployment, this system has the potential to contribute significantly to safer roads and more efficient transportation systems.

References

1. J. Redmon, S. Divvala, R. Girshick, and A. Farhadi, "You Only Look Once: Unified, Real-Time Object Detection," *Proceedings of the IEEE Conference on Computer Vision and Pattern Recognition (CVPR)*, pp. 779–788, 2016.

2. G. Jocher et al., "Ultralytics YOLOv8," *GitHub Repository*, 2023. Available: https://github.com/ultralytics/ultralytics

3. R. Szeliski, *Computer Vision: Algorithms and Applications*, 2nd ed., Springer, 2022.

4. A. Krizhevsky, I. Sutskever, and G. E. Hinton, "ImageNet Classification with Deep Convolutional Neural Networks," *Communications of the ACM*, vol. 60, no. 6, pp. 84–90, 2017

5. OpenCV.org, "Open Source Computer Vision Library," 2023. Available: https://opencv.org/

6. A. Rosebrock, *Deep Learning for Computer Vision with Python*, PyImageSearch, 2019.

7. LabelImg Tool, "LabelImg: Image Annotation Tool," GitHub Repository, 2023. Available: https://github.com/tzutalin/labelImg

8. M. Cordts et al., "The Cityscapes Dataset for Semantic Urban Scene Understanding," *Proceedings of the IEEE Conference on Computer Vision and Pattern Recognition (CVPR)*, 2016.

9. I. Goodfellow, Y. Bengio, and A. Courville, *Deep Learning*, MIT Press, 2016.

10. Flask Documentation, "Flask Web Framework," 2023. Available: https://flask.palletsprojects.com/

11. Z. Zhang, Q. Liu, and Y. Wang, "Road Damage Detection and Classification Using Deep Neural Networks," *IEEE Access*, vol. 7, pp. 104–115, 2019.

12. S. Maeda, Y. Sekimoto, T. Seto, T. Kashiyama, and H. Omata, "Road Damage Detection and Classification Using Deep Neural Networks with Smartphone Images," *Computer-Aided Civil and Infrastructure Engineering*, vol. 33, no. 12, pp. 1127–1141, 2018